175 OTTERS Part 2 Post Mission Report

This mission began with gliders sg174 and sg175 set for north - south and east - west transects respectively. The deployment was on January 23rd, 2026 off of the RV The Dadliest Catch in Edmonds. Due to buoyancy and communication issues with sg174 making it incapable of properly diving. We continued the time series collection with one glider (175) on the east - west transect. Glider sg175 was retrieved on February 6th, 2026. This document includes preliminary results from the data collected.

All plots can be obtained by using the cleaned data netCDF or csv file and the corresponding python script in the folder python scripts.

Area of Interest

Puget Sound, tracing currents off of Whidbey Island

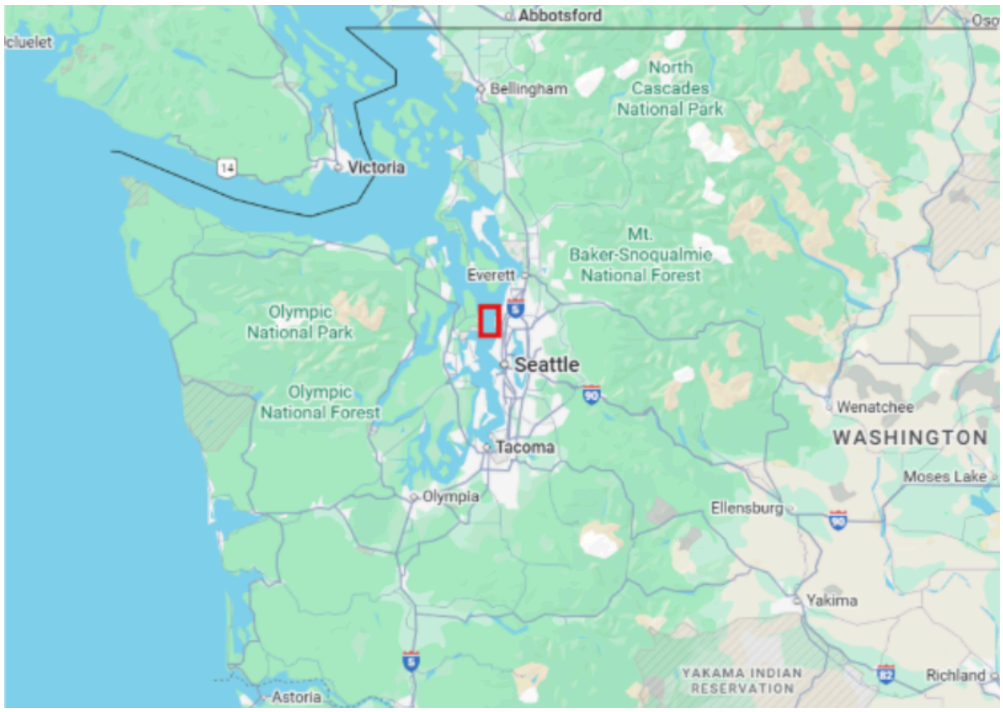

Plot of Seaglider 175 Track (January, 23, 2026- February, 6, 2026)

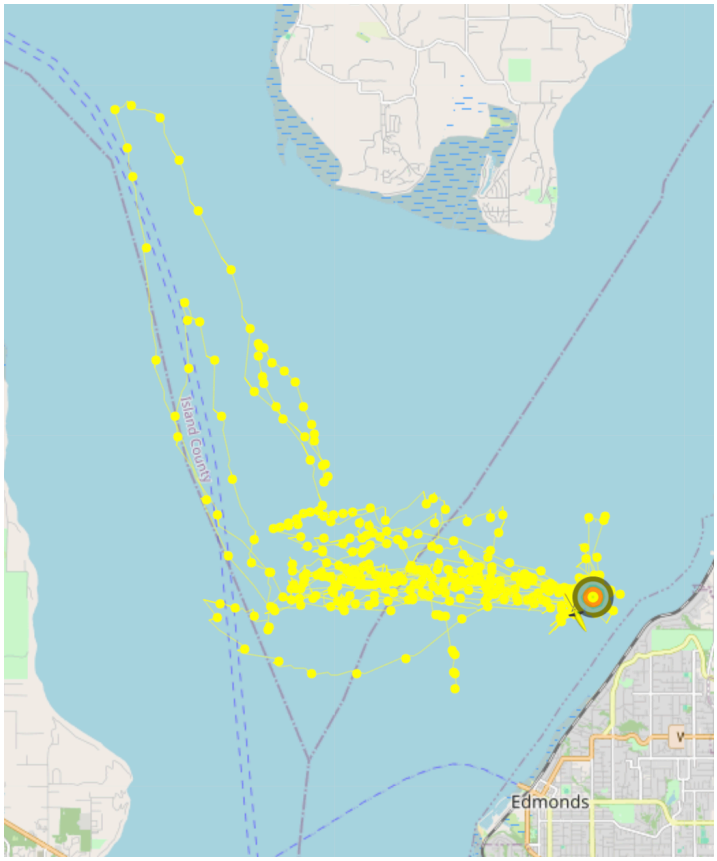

Dive plot from seaglider.pub

Temperature Variation

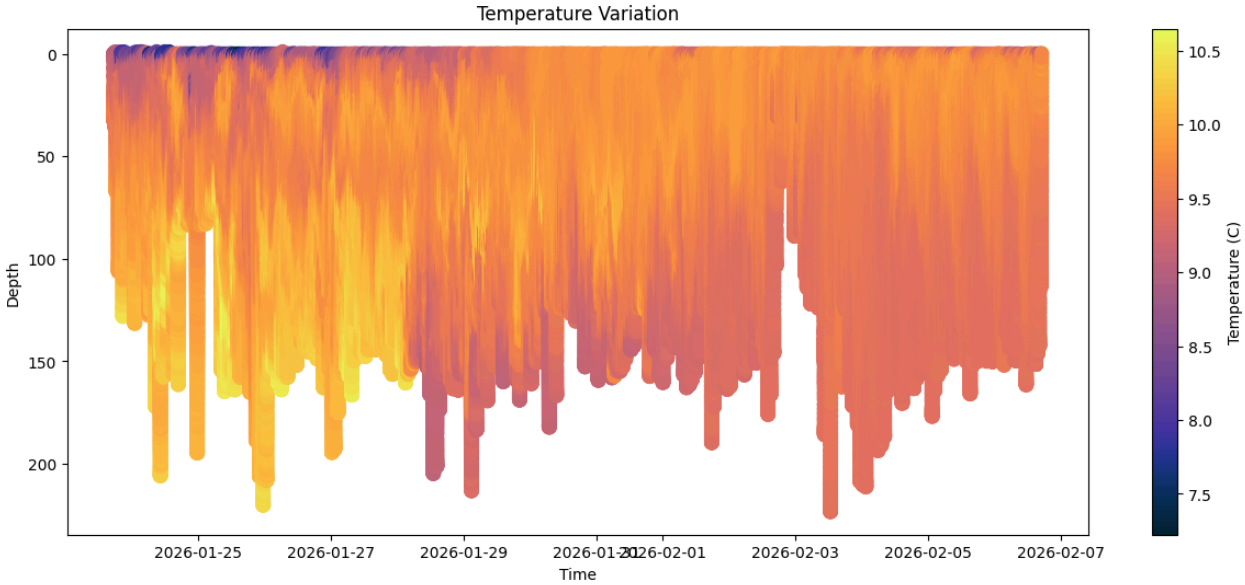

Salinity Variation

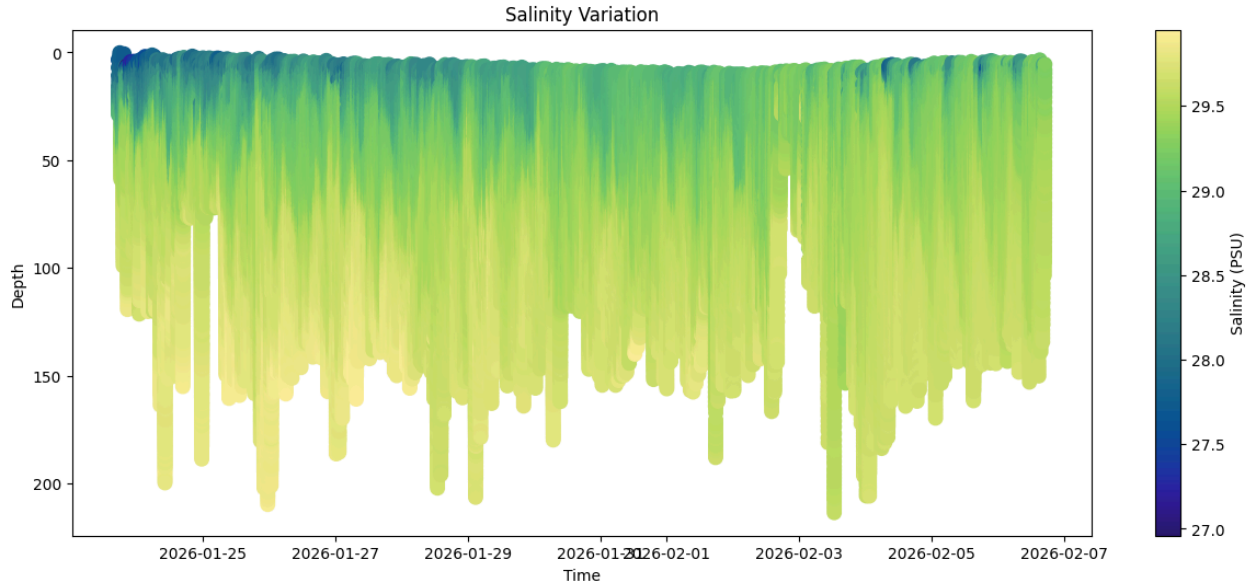
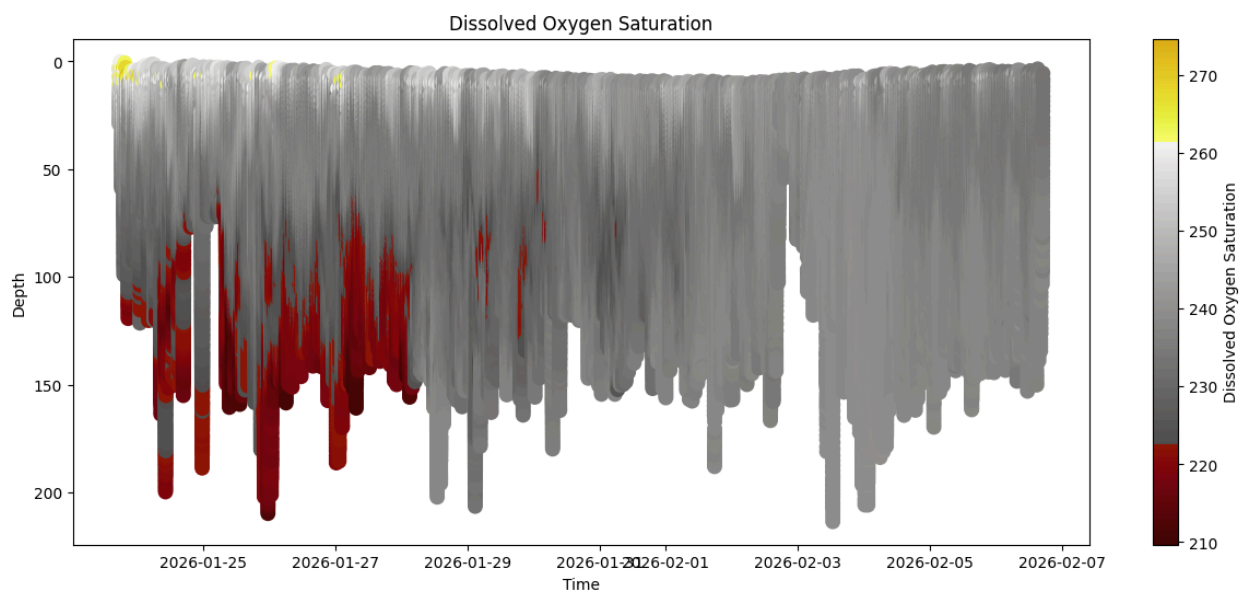
Dissolved Oxygen Saturation